Reporte de Cambios 2022-09-26

NDVI - Valor Puntual

Cuando el mouse se posiciona sobre la imagen, un popup muestra el valor de NDVI bajo el cursor.

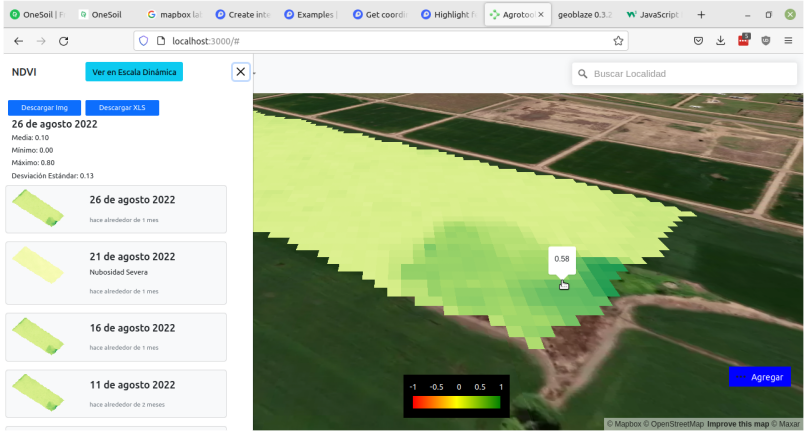



NDVI - Exportación a Excel

Se pueden exportar los valores en un archivo xls que incluyen "latitud", "longitud", "NDVI" de cada pixel. Se incluyen todos los valores con NDVI > -1.

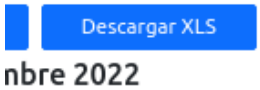

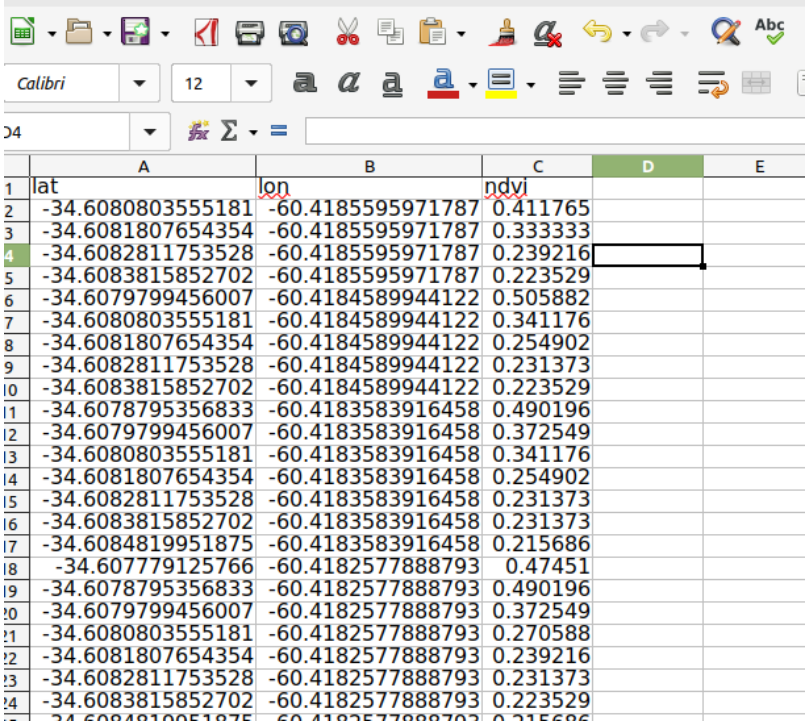

	A	B	C	D	E
1	lat	lon	ndvi		
2	-34.6080803555181	-60.4185595971787	0.411765		
3	-34.6081807654354	-60.4185595971787	0.333333		
4	-34.6082811753528	-60.4185595971787	0.239216		
5	-34.6083815852702	-60.4185595971787	0.223529		
6	-34.6079799456007	-60.4184589944122	0.505882		
7	-34.6080803555181	-60.4184589944122	0.341176		
8	-34.6081807654354	-60.4184589944122	0.254902		
9	-34.6082811753528	-60.4184589944122	0.231373		
10	-34.6083815852702	-60.4184589944122	0.223529		
11	-34.6078795356833	-60.4183583916458	0.490196		
12	-34.6079799456007	-60.4183583916458	0.372549		
13	-34.6080803555181	-60.4183583916458	0.341176		
14	-34.6081807654354	-60.4183583916458	0.254902		
15	-34.6082811753528	-60.4183583916458	0.231373		
16	-34.6083815852702	-60.4183583916458	0.231373		
17	-34.6084819951875	-60.4183583916458	0.215686		
18	-34.607779125766	-60.4182577888793	0.47451		
19	-34.6078795356833	-60.4182577888793	0.490196		
20	-34.6079799456007	-60.4182577888793	0.372549		
21	-34.6080803555181	-60.4182577888793	0.270588		
22	-34.6081807654354	-60.4182577888793	0.239216		
23	-34.6082811753528	-60.4182577888793	0.231373		
24	-34.6083815852702	-60.4182577888793	0.223529		

Graficos - Cambio de color de Etiquetas a Negro



Graficos - Radar / Rosa de los Vientos
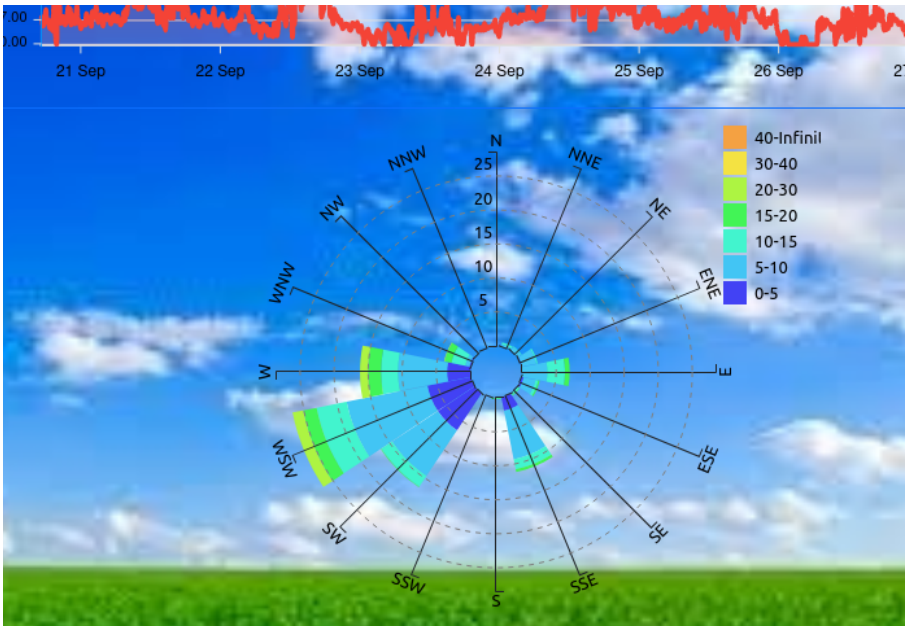
Ahora el gráfico de dirección es un radar/rosa de vientos que muestra la direcciones, velocidades y frecuencias principales del viento.